Amirkabir University of Technology

Designed By:
Abdul Atiq Amiri
9924104

Variant 1

LONGITUDINAL PROFILE

FROM: Km 0+000 To: Km 1+000
Scale: Hor.1:2000 Ver.1:200

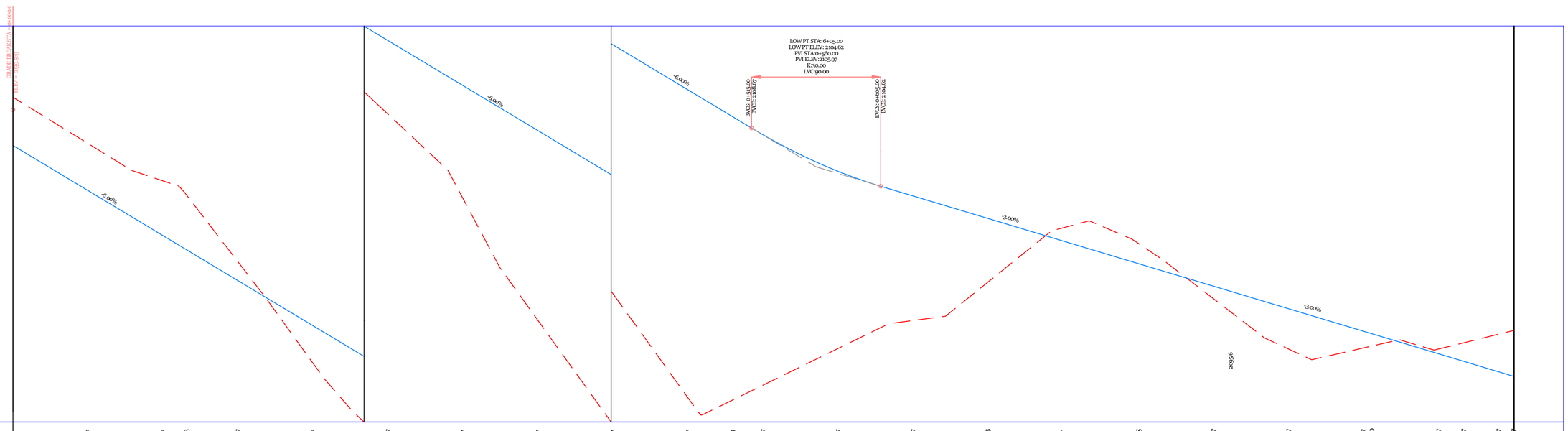

| | | |

Amirkabir University of Technology

Designed By:
Abdul Atiq Amiri
9924104

Variant 1

LONGITUDINAL PROFILE

FROM: Km 3+000 To: Km 4+000
Scale: Hor.1:2000 Ver.1:200

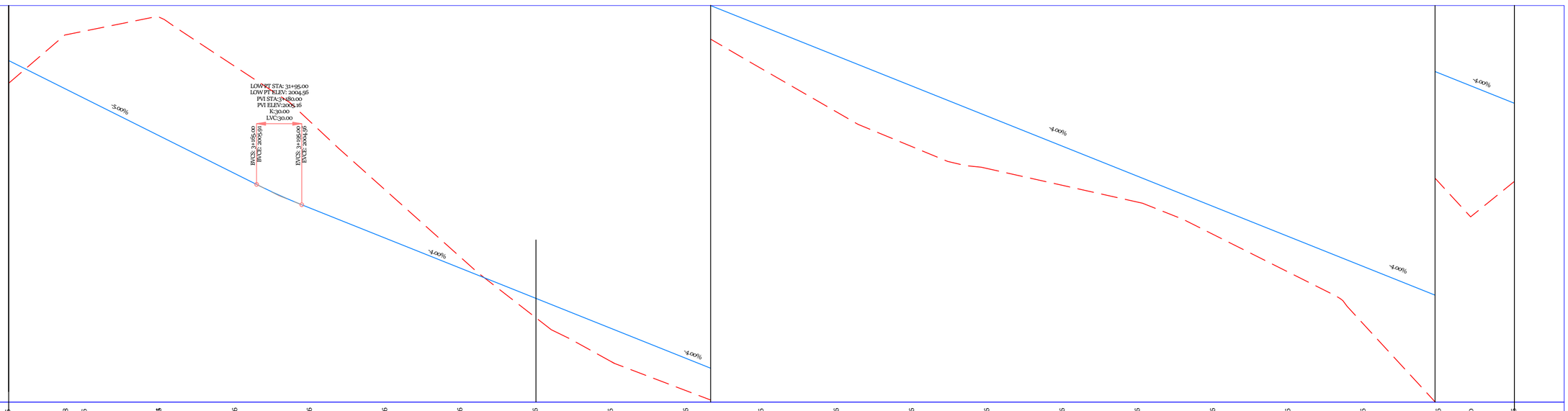

Project Elevation	2014.16	2012.28	2011.66	2010.84	2009.84	2006.66	2004.36	2002.36	2000.36	1998.36	1996.36	1994.36	1992.36	1990.36	1988.36	1986.36	1984.36	1982.36	1980.36	1978.36	1976.36	1974.36	1973.50	1972.36
Ground Elevation	2016.6	2015.8	2016.1	2017.6	2017.6	2013.8	2010.1	2005.6	2001.1	1997.1	1994.2	1992.2	1989.5	1986.6	1984.3	1982.9	1981.8	1980.6	1978.5	1976.0	1972.6	1967.1	1964.8	1967.1
Piquet Number	76	77	78	79	80	81	82	83	84	85	86	87	88	89	90	91	92	93	94	95	96	97	98	99
STATIONING — Station	3+000	3+038	3+050	3+100	3+100	3+150	3+200	3+250	3+300	3+350	3+400	3+450	3+500	3+550	3+600	3+650	3+700	3+750	3+800	3+850	3+900	3+950	3+972	4+000
Stations Gap		37.60	12.40	49.10	0.90	50.00	50.00	50.00	50.00	50.00	50.00	50.00	50.00	50.00	50.00	50.00	50.00	50.00	50.00	50.00	50.00	21.50	28.50	
Meters	0.00	37.60	50.00	99.10	100.00	150.00	200.00	250.00	300.00	350.00	400.00	450.00	500.00	550.00	600.00	650.00	700.00	750.00	800.00	850.00	900.00	950.00	972.00	1000.00
Kilo & Hectometer	KM 0																							1
HORIZONTAL ALIGNMENT — Meters																								
Curves																								
Roadway Edges Relative Elevation From Center Line (RIGHT SIDE / LEFT SIDE)	L=R=-2%																							

Amirkabir University of Technology

Designed By:
Abdul Atiq Amiri
9924104

Variant 1

LONGITUDINAL PROFILE

FROM: Km 4+000 To: Km 5+000
Scale: Hor.1:2000 Ver.1:200

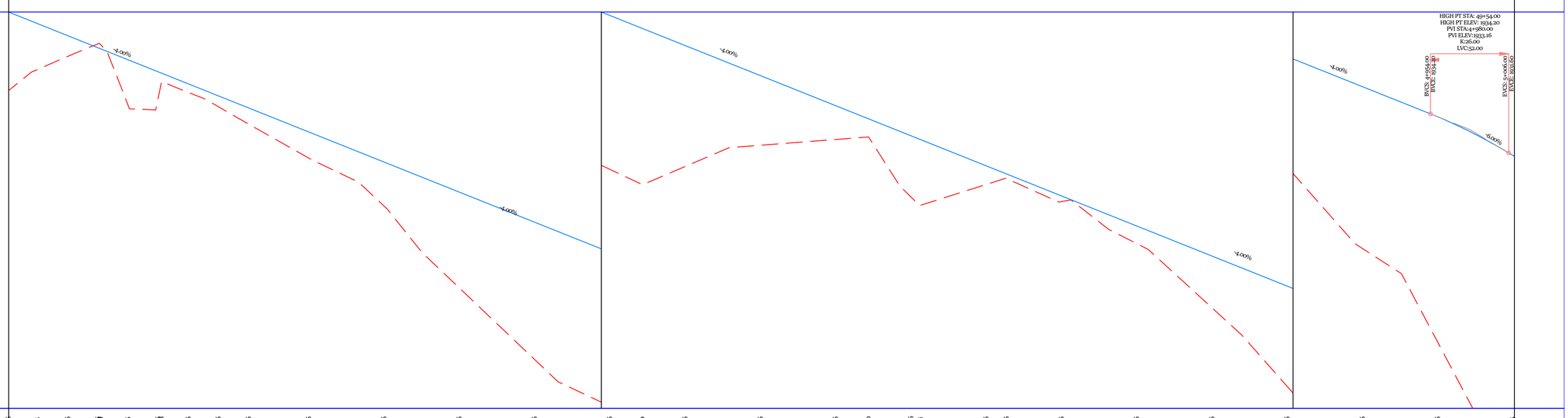

Project Elevation	1972.36	1971.56	1970.76	1969.96	1969.36	1969.16	1968.36	1967.56	1966.76	1965.96	1964.36	1962.36	1960.36	1958.36	1956.36	1955.50	1954.36	1952.36	1950.36	1949.50	1948.36	1948.14	1946.36	1945.85	1944.36	1942.36	1940.36	1938.36	1936.36	1934.36	1932.36
Ground Elevation	1969.1	1968.5	1969.4	1970.3	1970.3	1969.1	1968.7	1967.0	1966.0	1964.9	1962.6	1959.4	1955.0	1949.2	1946.1	1945.1	1946.3	1947.7	1948.1	1948.3	1944.3	1943.7	1946.1	1946.5	1944.0	1941.2	1939.9	1937.7	1936.0	1930.7	1931.3
Piquet Number	99	100	101	102	103	104	105	106	107	108	109	110	111	112	113	114	115	116	117	118	119	120	121	122	123	124	125	126	127	128	129	130
STATIONING — Station	4+000	4+020	4+040	4+050	4+060	4+080	4+100	4+120	4+140	4+160	4+200	4+250	4+300	4+350	4+400	4+422	4+450	4+500	4+550	4+572	4+600	4+606	4+650	4+663	4+700	4+750	4+800	4+850	4+900	4+950	5+000
Stations Gap		20.00	20.00	20.00	0.50	19.40	20.00	2.00	18.00	20.00	20.00	40.00	50.00	50.00	50.00	50.00	21.50	28.50	50.00	50.00	21.60	28.40	5.90	44.50	12.80	37.20	50.00	50.00	50.00	50.00	50.00	50.00
Meters	0.00	20.00	40.00	60.00	60.50	79.90	99.90	101.90	119.90	139.90	159.90	199.90	249.90	299.90	349.90	399.90	421.40	449.90	499.90	549.90	571.50	599.90	605.80	650.30	663.10	700.30	750.30	800.30	850.30	900.30	950.30	1000.30
Kilo & Hectometer																																
HORIZONTAL ALIGNMENT — Meters		015.93	030.40	044.87		085.40	098.79			139.31	153.79	168.26																				
Curves																																
Roadway Edges Relative Elevation From Center Line (RIGHT SIDE / LEFT SIDE)					R=+8% L=-8%																											L=R=-2%

Amirkabir University of Technology

Designed By:
Abdul Atiq Amiri
9924104

Variant 1

LONGITUDINAL PROFILE

FROM: Km 5+000 To: Km 6+000
Scale: Hor.1:2000 Ver.1:200

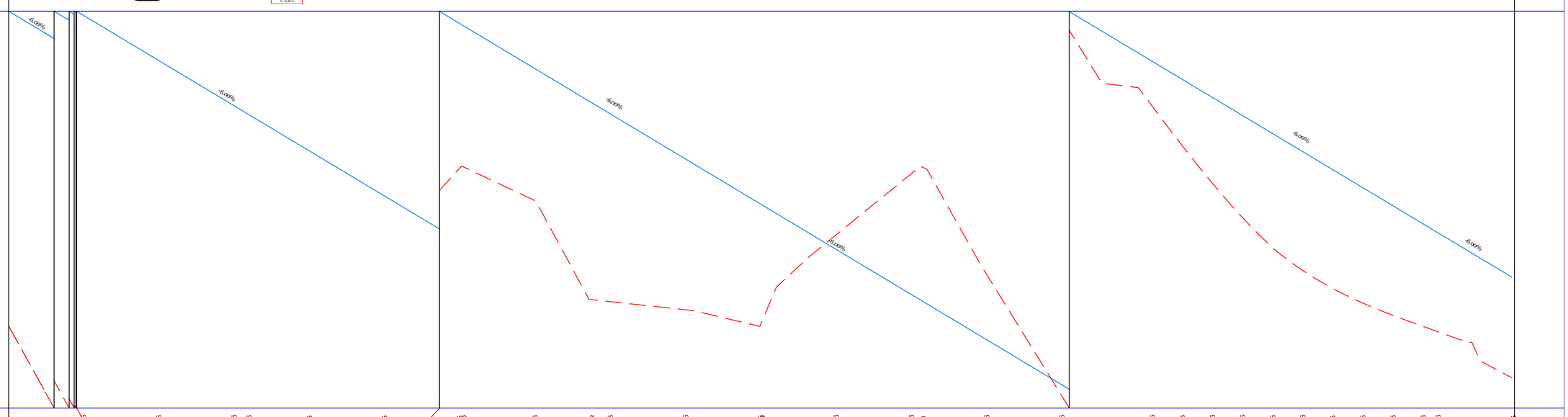

Project Elevation	1931.96	1928.96	1925.96	1922.96	1922.36	1919.96	1916.96	1913.96	1913.80	1910.96	1908.72	1907.96	1904.96	1901.96	1898.96	1895.96	1895.51	1892.96	1889.96	1888.36	1885.16	1883.96	1882.76	1881.56	1880.36	1879.16	1877.96	1876.76	1875.56	1874.96	1874.96
Ground Elevation	1931.3	1902.2	1896.8	1892.8	1891.8	1895.5	1900.9	1902.1	1902.2	1896.6	1895.4	1894.9	1896.7	1903.8	1904.4	1897.5	1889.4	1883.5	1880.9	1878.4	1876.1	1874.0	1872.5	1871.3	1870.3	1869.5	1868.7	1868.4	1868.3	1868.3
Piquet Number	130	131	132	133	134	135	136	137	138	139	140	141	142	143	145	146	147	148	149	150	151	152	153	154	155	156	157	158	159	160	161
STATIONING — Station	5+000	5+050	5+100	5+150	5+160	5+200	5+250	5+300	5+338	5+350	5+387	5+400	5+450	5+500	5+550	5+600	5+608	5+650	5+700	5+750	5+780	5+800	5+830	5+840	5+860	5+880	5+900	5+920	5+940	5+950	6+000
Stations Gap		50.00	50.00	50.00	10.00	40.00	50.00	50.00	2.20	47.30	37.40	12.60	50.00	50.00	0.80	49.20	50.00	7.50	42.50	50.00	60.00	20.00	20.00	20.00	20.00	20.00	20.00	20.00	20.00	10.00	50.00
Meters	0.00	50.00	100.00	150.00	160.00	200.00	250.00	300.00	302.20	349.50	386.90	399.50	449.50	499.50	500.30	549.50	599.50	607.00	649.50	699.50	759.50	779.50	799.50	819.50	839.50	859.50	879.50	899.50	919.50	929.50	979.50
Kilo & Hectometer																															
HORIZONTAL ALIGNMENT — Meters																				751.65	766.12	780.59		821.12		862.50		903.03	917.50	931.98	
Curves																															
Roadway Edges Relative Elevation From Center Line (RIGHT SIDE / LEFT SIDE)	L=R=-2%																						L=+8% R=-8%								

Amirkabir University of Technology

Designed By:
Abdul Atiq Amiri
9924104

Variant 1

LONGITUDINAL PROFILE

FROM: Km 6+000 To: Km 7+000
Scale: Hor.1:2000 Ver.1:200

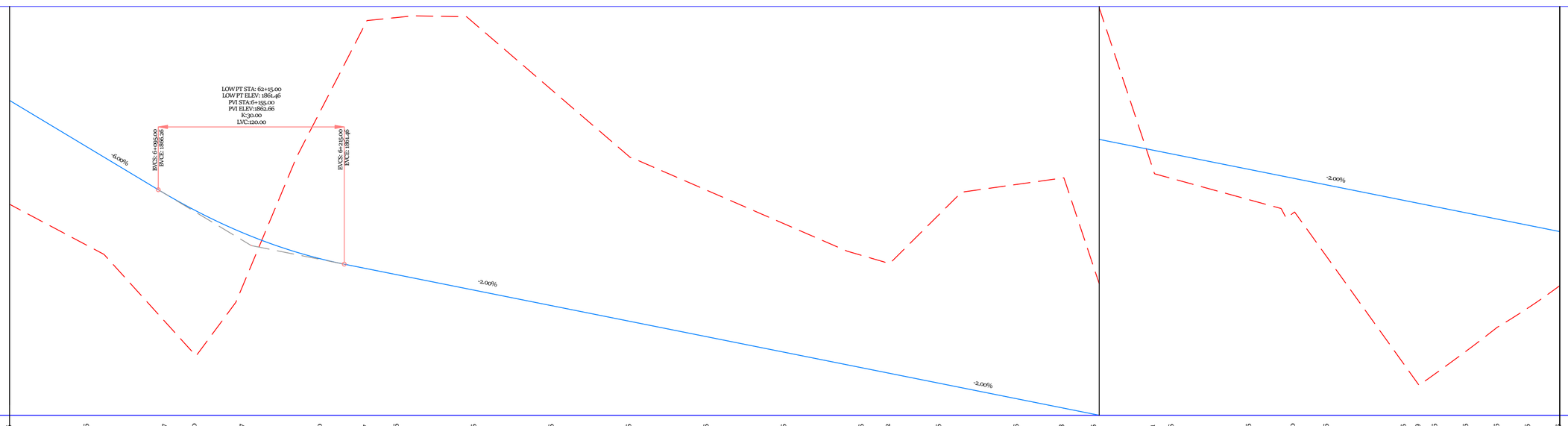

| | | |

Amirkabir University of Technology

Designed By:
Abdul Atiq Amiri
9924104

Variant 1

LONGITUDINAL PROFILE

FROM: Km 9+000 To: Km 10+000
Scale: Hor.1:2000 Ver.1:200

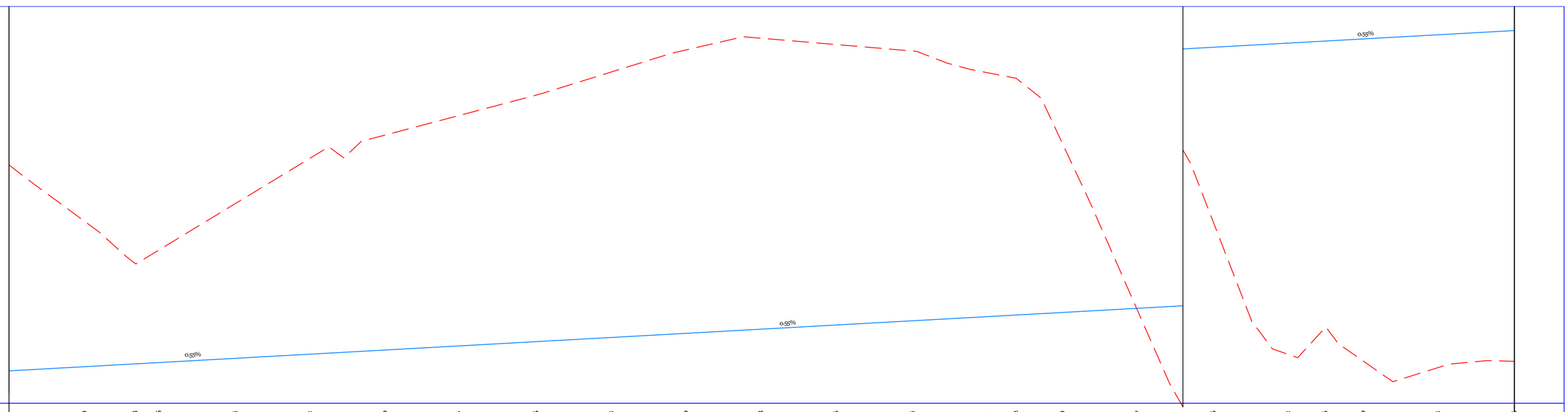

Project Elevation	1852.31	1852.79	1852.98	1853.06	1853.34	1853.62	1853.90	1854.17	1854.45	1854.73	1855.00	1855.28	1855.56	1855.84	1856.11	1856.22	1856.39	1856.67	1856.95	1857.22	1857.36	1857.50	1857.78	1858.05
Ground Elevation	1866.2	1862.5	1859.6	1860.6	1863.6	1866.6	1868.2	1869.5	1870.8	1872.4	1873.8	1874.6	1874.2	1873.8	1872.3	1872.0	1867.6	1856.5	1845.4	1836.5	1838.4	1836.1	1835.7	1836.1
Piquet Number	263	264	265	266	267	268	269	270	271	272	273	274	275	276	277	278	279	280	281	282	283	284	285	286
STATIONING — Station	9+000	9+050	9+084	9+100	9+150	9+200	9+250	9+300	9+350	9+400	9+450	9+500	9+550	9+600	9+650	9+669	9+700	9+750	9+800	9+850	9+875	9+900	9+950	9+988.05
Stations Gap		50.00	34.20	15.80	50.00	50.00	50.00	50.00	50.00	50.00	50.00	50.00	50.00	50.00	50.00	19.10	30.90	50.00	50.00	50.00	24.90	25.10	50.00	50.00
Meters	0.00	50.00	84.20	100.00	150.00	200.00	250.00	300.00	350.00	400.00	450.00	500.00	550.00	600.00	650.00	669.10	700.00	750.00	800.00	850.00	874.90	900.00	950.00	988.05
Kilo & Hectometer	KM 0																							0
HORIZONTAL ALIGNMENT — Meters																								
Curves																								
Roadway Edges Relative Elevation From Center Line (RIGHT SIDE / LEFT SIDE)	L=R=-2%																							

Amirkabir University of Technology

Designed By:
Abdul Atiq Amiri
9924104

Variant 1

LONGITUDINAL PROFILE

FROM: Km 10+000 To: Km 11+000
Scale: Hor.1:2000 Ver.1:200

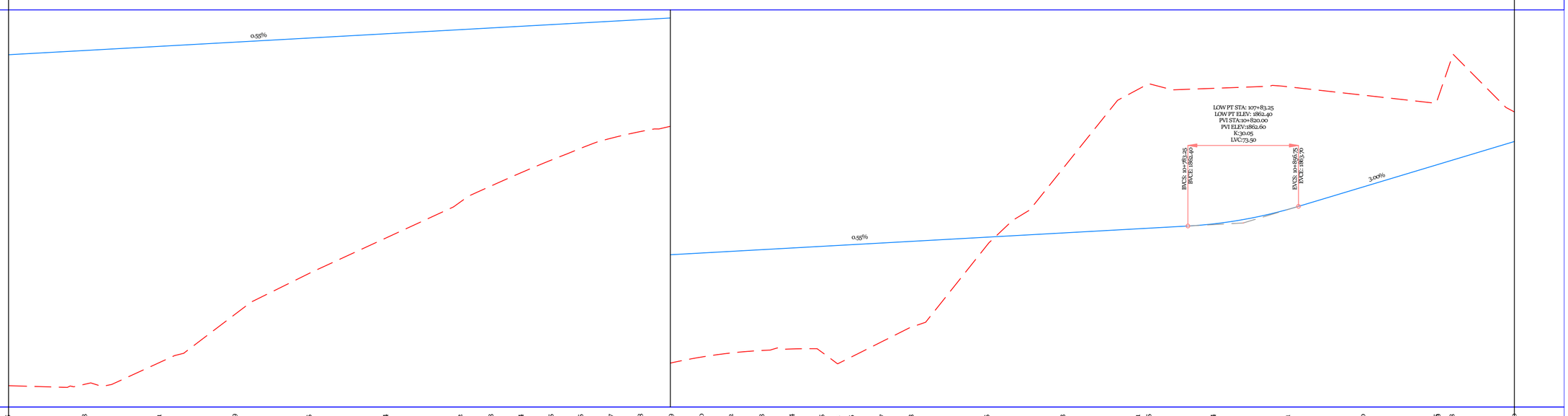

Project Elevation	1858.05	1858.33	1858.61	1858.89	1859.16	1859.44	1859.72	1859.83	1859.94	1860.05	1860.16	1860.27	1860.38	1860.49	1860.60	1860.72	1860.83	1860.94	1861.05	1861.11	1861.16	1861.27	1861.38	1861.66	1861.93	1862.21	1862.25	1862.54	1863.51	1865.00	1865.45	1865.90	1866.78	1868.00
Ground Elevation	1876.1	1876.2	1877.6	1878.8	1878.6	1878.9	1878.3	1878.3	1878.2	1878.0	1878.8	1878.5	1878.0	1878.3	1877.7	1877.0	1876.1	1875.4	1875.7	1876.2	1876.2	1875.7	1875.7	1876.2	1876.2	1875.5	1875.8	1875.5	1875.6	1875.1	1875.5	1875.6	1875.8	1876.0
Piquet Number	286	287	288	289	290	291	292	293	294	295	296	297	298	299	300	301	302	303	304	305	306	307	308	309	310	311	312	313	314	315	316	317	318	319
STATIONING — Station	10+000	10+050	10+100	10+150	10+200	10+250	10+300	10+320	10+340	10+360	10+380	10+400	10+420	10+440	10+460	10+480	10+500	10+520	10+540	10+550	10+560	10+580	10+600	10+650	10+700	10+750	10+757	10+800	10+850	10+900	10+948	10+950	10+959	11+000
Stations Gap		50.00	50.00	50.00	50.00	50.00	50.00	20.00	20.00	20.00	20.00	20.00	20.00	20.00	20.00	20.00	20.00	20.00	20.00	10.50	9.50	20.00	20.00	50.00	50.00	50.00	7.20	42.80	50.00	50.00	48.20	1.80	9.40	40.60
Meters	0.00	50.00	100.00	150.00	200.00	250.00	300.00	320.00	340.00	360.00	380.00	400.00	420.00	440.00	460.00	480.00	500.00	520.00	540.00	550.00	560.00	580.00	600.00	650.00	700.00	750.00	757.20	800.00	850.00	900.00	948.20	950.00	959.40	1000.00
Kilo & Hectometer																																		
HORIZONTAL ALIGNMENT — Meters								313.95	328.42	342.89	383.42						594.79		545.32	559.79	574.36													
Curves																																		
Roadway Edges Relative Elevation From Center Line (RIGHT SIDE / LEFT SIDE)	L=R=-2%										R=+8% L=-8%																							L=R=-2%

Amirkabir University of Technology

Designed By:
Abdul Atiq Amiri
9924104

Variant 1

LONGITUDINAL PROFILE

FROM: Km 11+000 To: Km 11+842
Scale: Hor.1:2000 Ver.1:200

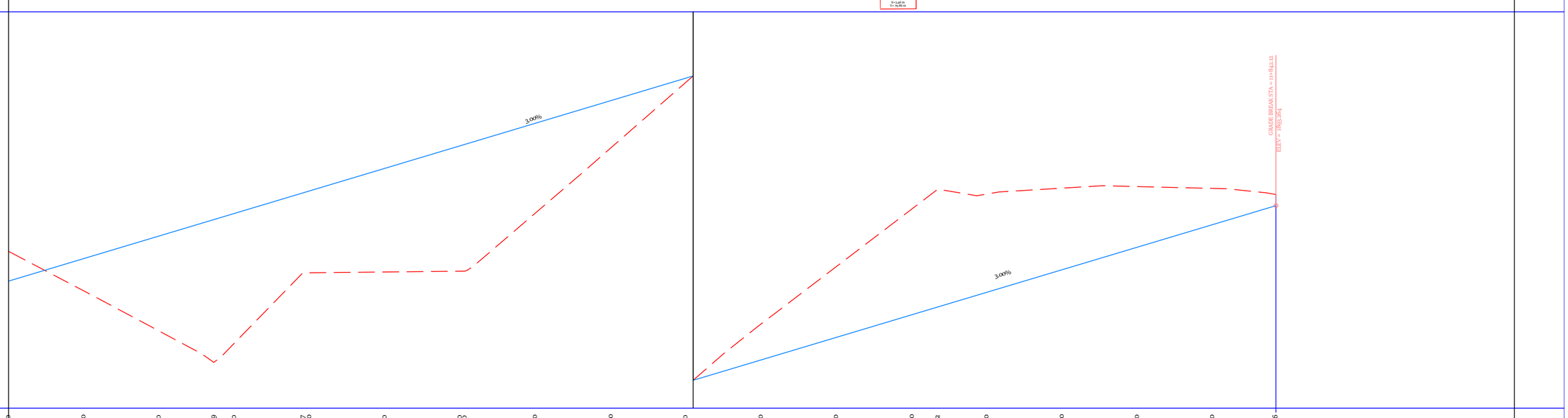

Project Elevation	1868.00	1869.50	1871.00	1872.09	1872.50	1873.87 1874.00	1875.50	1877.00 1877.10	1878.50	1880.00	1881.50	1883.00	1884.50	1886.00	1886.52	1887.50	1889.00	1890.50	1892.00	1893.26							
Ground Elevation	1870.0	1867.3	1864.7	1862.6	1863.9	1868.6 1868.6	1868.6	1868.7 1868.7	1872.5	1876.8	1881.2	1885.4	1889.2	1893.0	1894.4	1894.0	1894.4	1894.5	1894.4	1894.0							
Piquet Number	319	320	321	322	323	324 325	326	327 328	329	330	331	332	333	334	335	336	337	338	339	340							
STATIONING — Station	11+000	11+050	11+100	11+136	11+150	11+196 11+200	11+250	11+300 11+303	11+350	11+400	11+450	11+500	11+550	11+600	11+618	11+650	11+700	11+750	11+800	11+842							
Stations Gap		50.00	50.00	36.40	13.60	45.60	4.40	50.00	50.00	3.20	46.80	50.00	50.00	50.00	50.00	50.00	17.50	32.50	50.00	50.00	50.00	42.10					
Meters	0.00	50.00	100.00	136.40	150.00	195.60	200.00	250.00	300.00	303.20	350.00	400.00	450.00	500.00	550.00	600.00	617.50	650.00	700.00	750.00	800.00	842.10					
Kilo & Hectometer																											
HORIZONTAL ALIGNMENT — Meters																											
Curves																											
Roadway Edges Relative Elevation From Center Line (RIGHT SIDE / LEFT SIDE)	L=R=-2%																										